Victoria Crash Statistics

Accident Across Metropolitan Melbourne

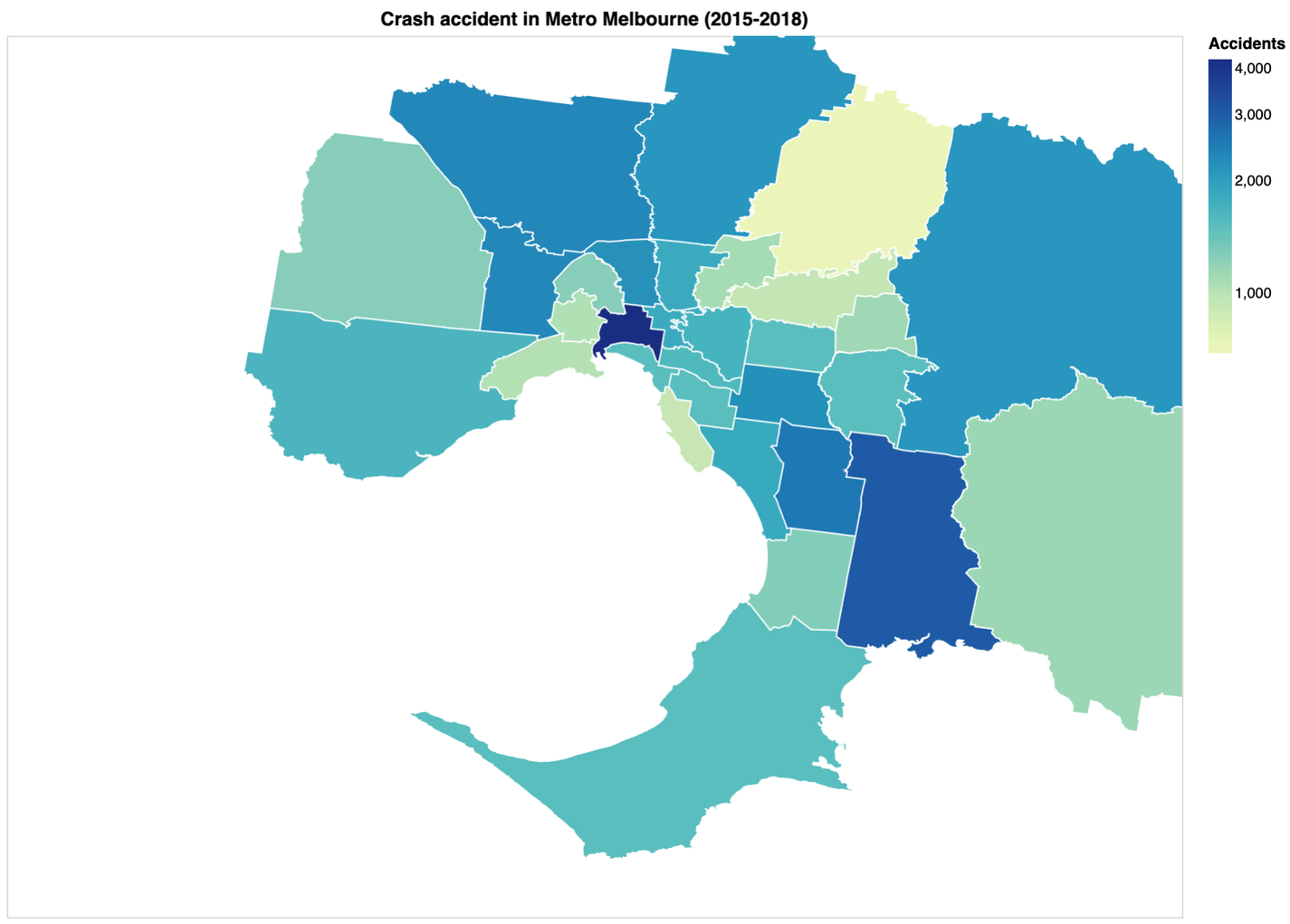

Zoom: 30000
Map Centre: Melbourne CBD

The map shows the number of crashes that happen in each Melbourne's metropolitan Local Government Area from 2015 until 2018.

Typically, the number of accident correspond to the size of the LGA. Highest number of crash accident happend in Melbourne City and the lowest in Nillumbik Shire.

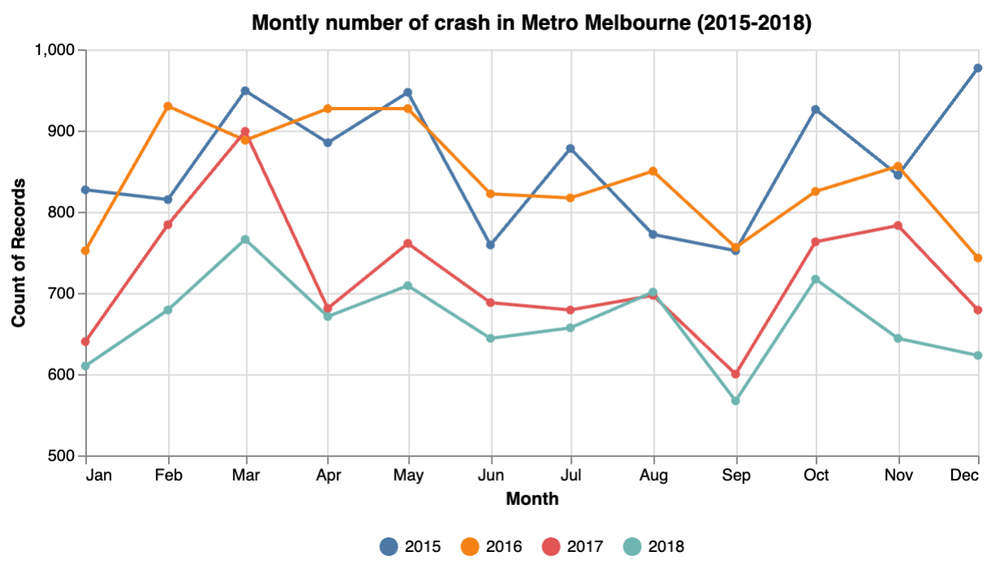

Accident Throughout The Years

There tends to be a downtrend in the start and the end of the year. The number of crash has been decreasing in recent years.

Accident Information

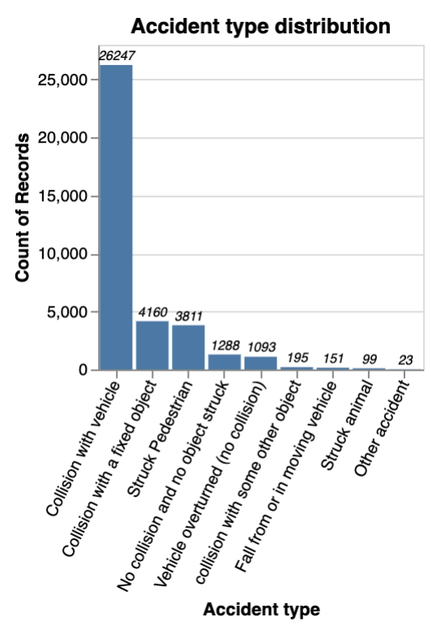

Year: Show all

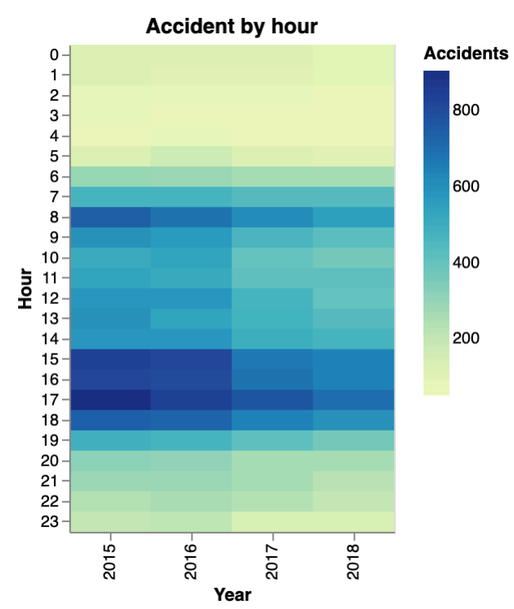

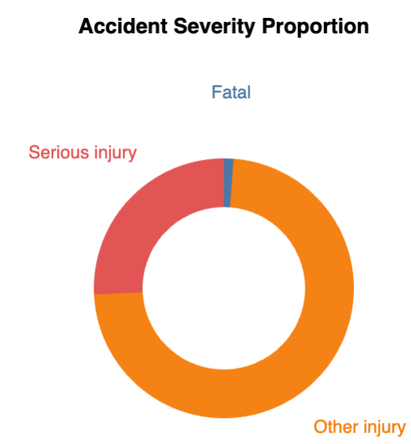

Collision with vehicle has been the highest accident type on every year with more than 5 times compared to collision with a fixed object.

Accident happend more frequently in the daytime especially in the late afternoon. Late evening has more accidents compared to after midnight.

Most of the accident did not result in fatal or serious injury.

Visualisation by Jason Nathaniel Setiawan. Accessible from this Github page.